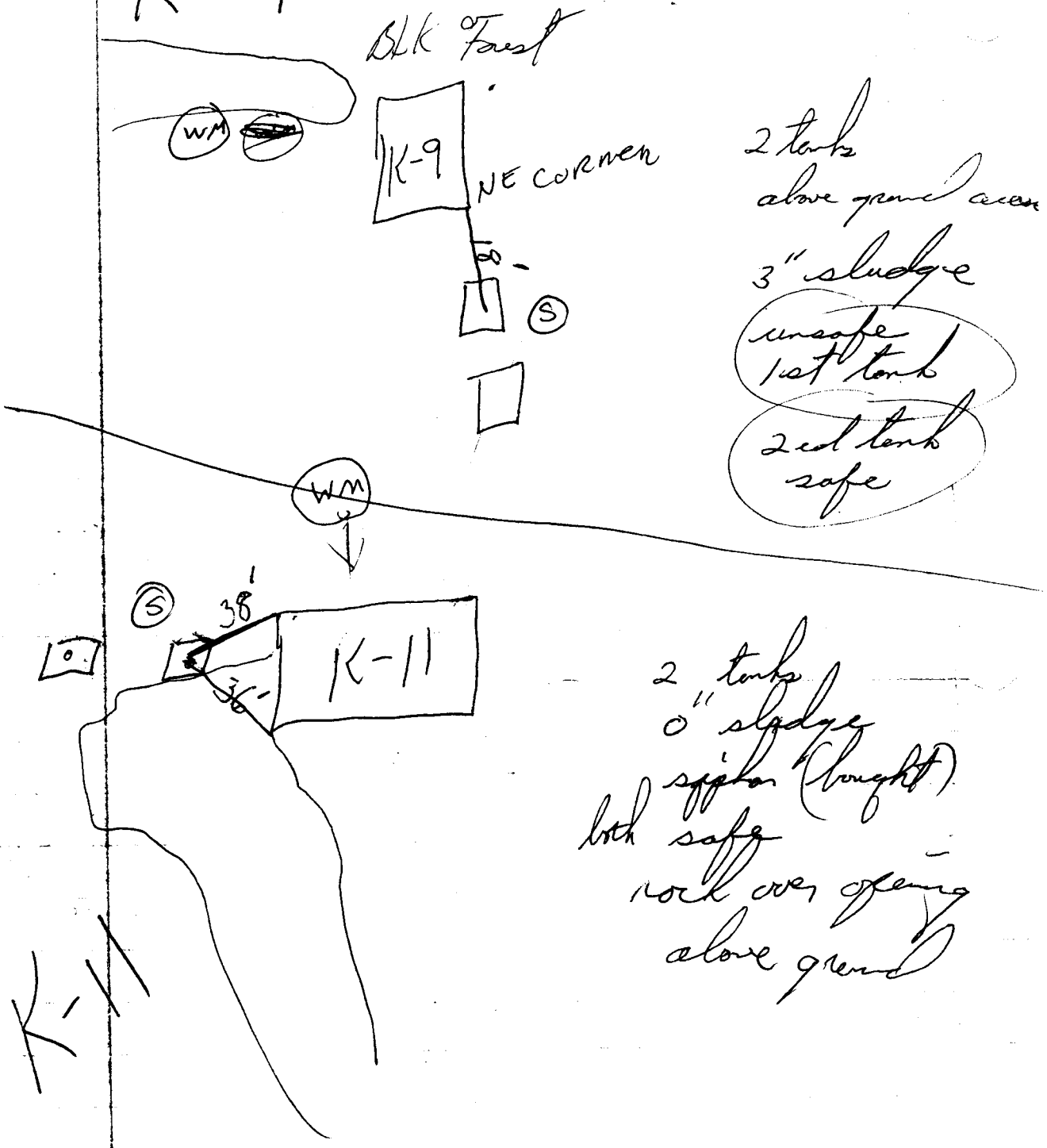
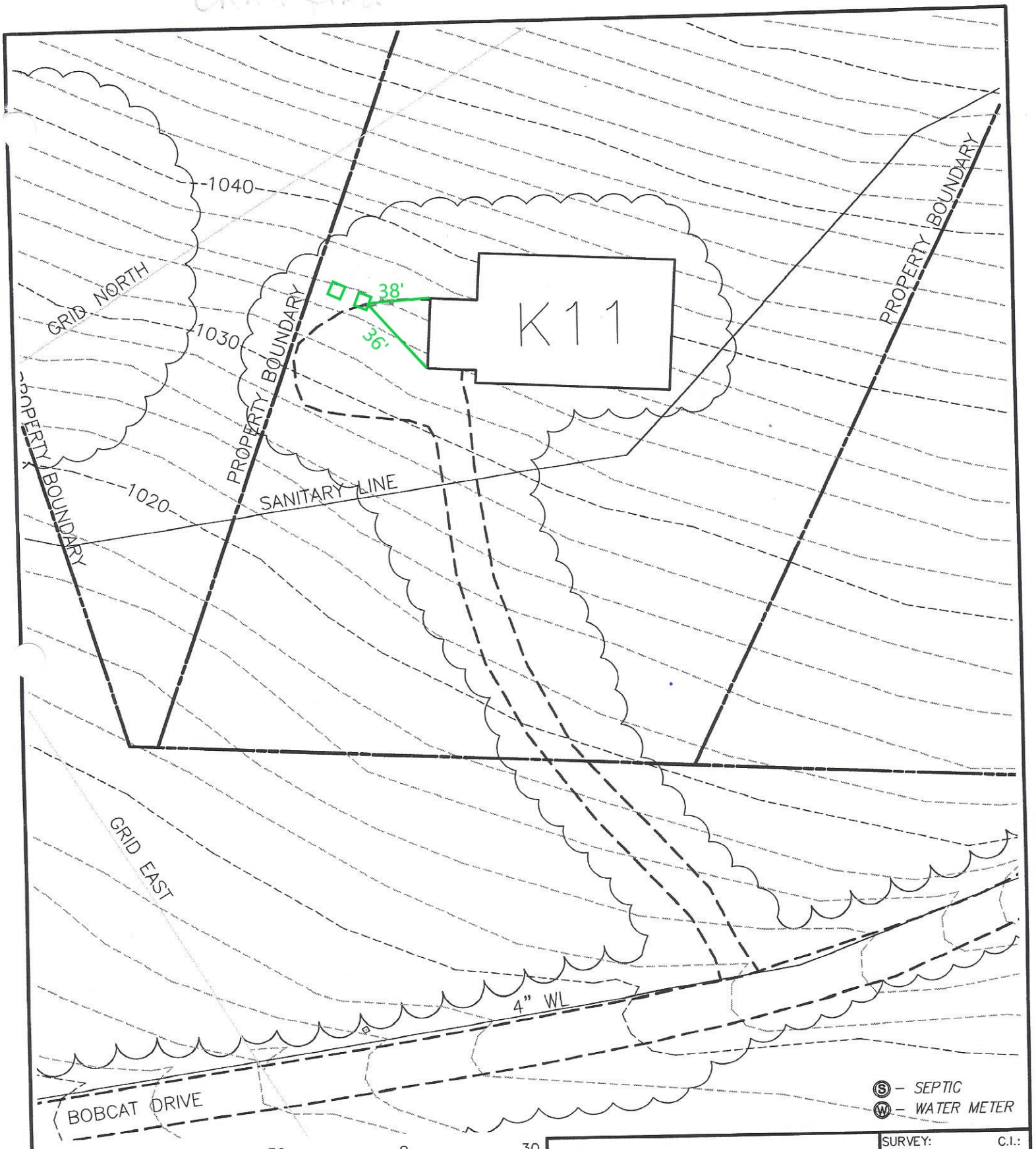
K-9


BLK Forest
WM
K-9
NE CORNER
S
2 tanks
above ground access
3" sludge
unsafe
1st tank
2nd tank
safe
WM
S
38'
K-11
0
36'
2 tanks
0" sludge
septic (bought)
both safe
rock over opening
above ground
K-11

Cont'd Sand



30 0 30

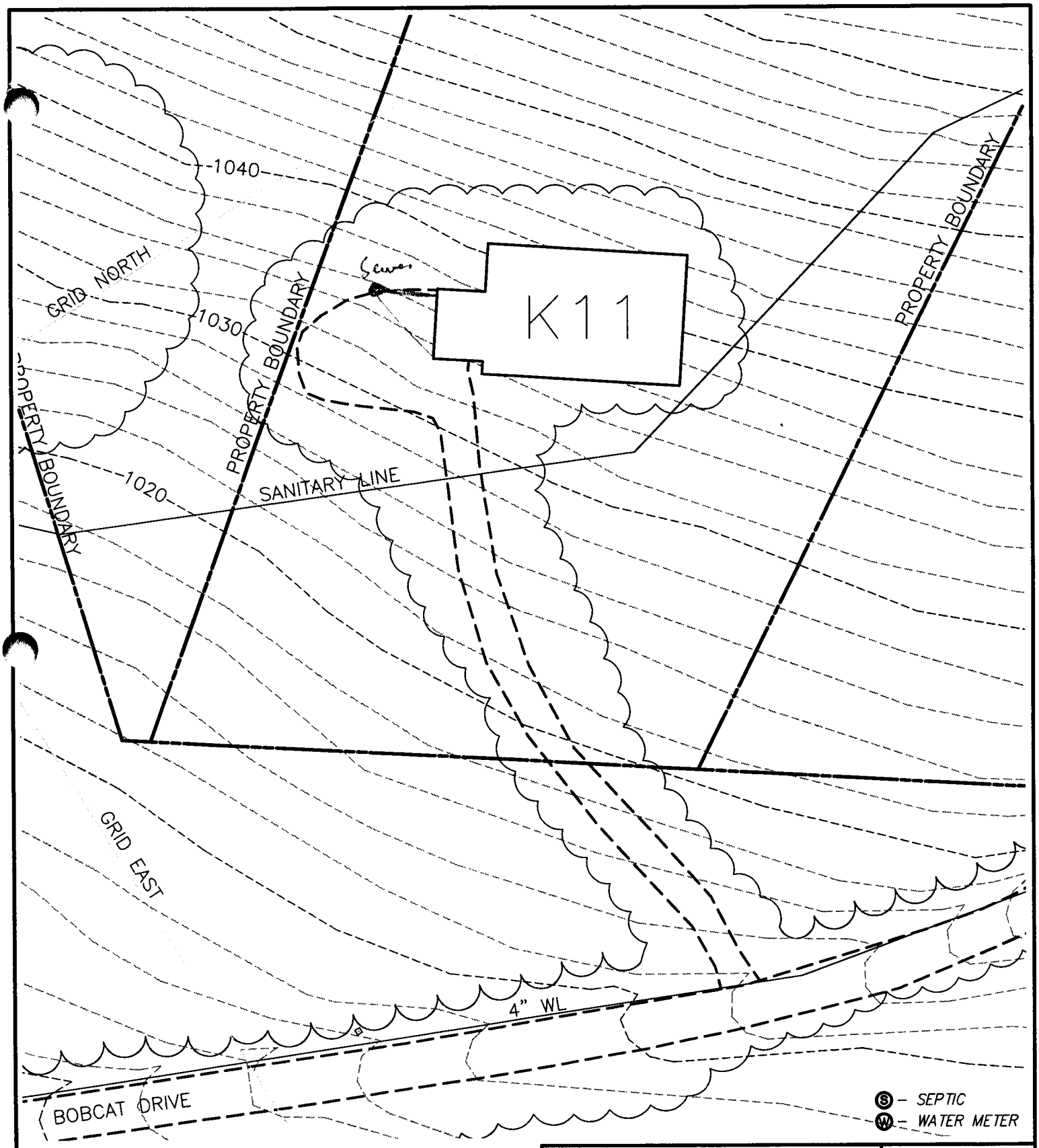
Scale 1" = 30 ft

NOTE:
1. Property lines and utilities are shown in an approximated location.

181 BOBCAT DRIVE
SECTION K–LOT 11
UTILITY LOCATION MAP

SURVEY: PAS	C.I.: 2'
DRAWN BY: P–L	JOB NO.: 0902011
SCALE: SHOWN	DATE: 9/9/11
SHEET:	K11

C-5



30 0 30

Scale 1" = 30 ft

NOTE:
1. Property lines and utilities are shown in an approximated location.

181 BOBCAT DRIVE
SECTION K–LOT 11
UTILITY LOCATION MAP

SURVEY: PAS	C.I.: 2'
DRAWN BY: P–L	JOB NO.: 0902011
SCALE: SHOWN	DATE: 9/9/11
SHEET:	K11